Get Set Go

YOUR RIDE PATNER

Problem Statement

Bikers find it difficult to use their expensive phones on the bike as it drains the battery big time as well as risks their phones in different climatic conditions. Keeping track of petrol in the bike is tire sum for the bikers who travel long routes. They were finding it difficult to share their experiences with like-minded people. New bikers find it difficult to find the right route and places to visit.

Possible Solution

A platform for the passionate bikers who want to share their experiences with like minded people.
For the new bees who wanted to explore their biking passion and who wants more information about the offbeat routes, stays, food joints, etc.
A tool to tell them turn by turn navigation, bikes life, petrol level - without draining their phone battery and risking their expensive phone by mounting them in the bike while riding in different climatic conditions.

Project Duration

32 Weeks

No. of screens

60+ Screens

Tools used

Design Process

Discover

Interview with stakeholders
Interview with bikers of different states
User research

Define

User personas
Empathy maps

Ideate

Information Architecture

Design

Wireframes
Colour Themes
Visuals
Clickable prototype

Testing

Feedback from the users
Changes if required

Discovery Phase

We embarked on user research study across India to gather first-hand insights into key user behaviors. Interacted with sample group of 68+ bikers

Interviews with bikers



Definfing the problem

User Personas sample

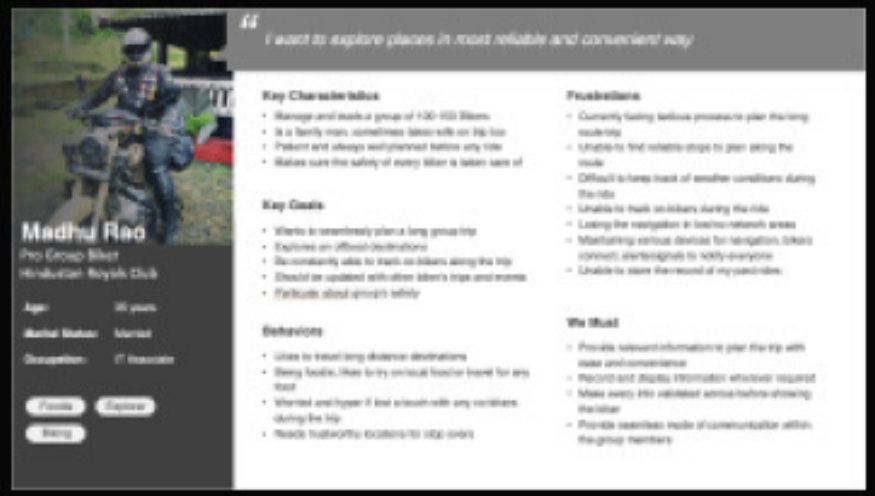

Empathy Maps

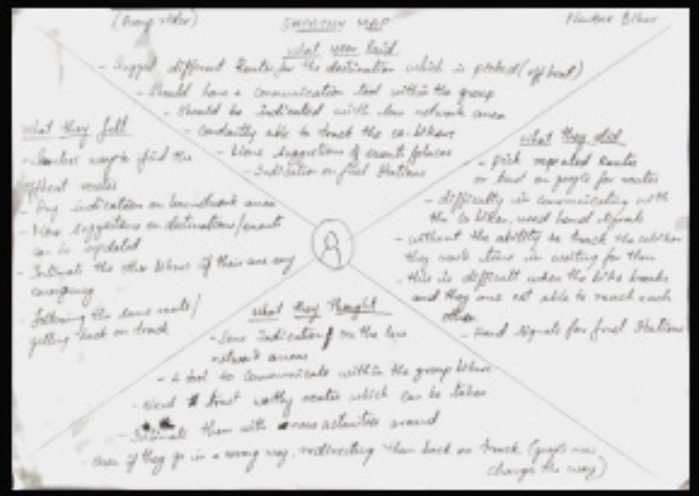



Ideation

Information Architecture

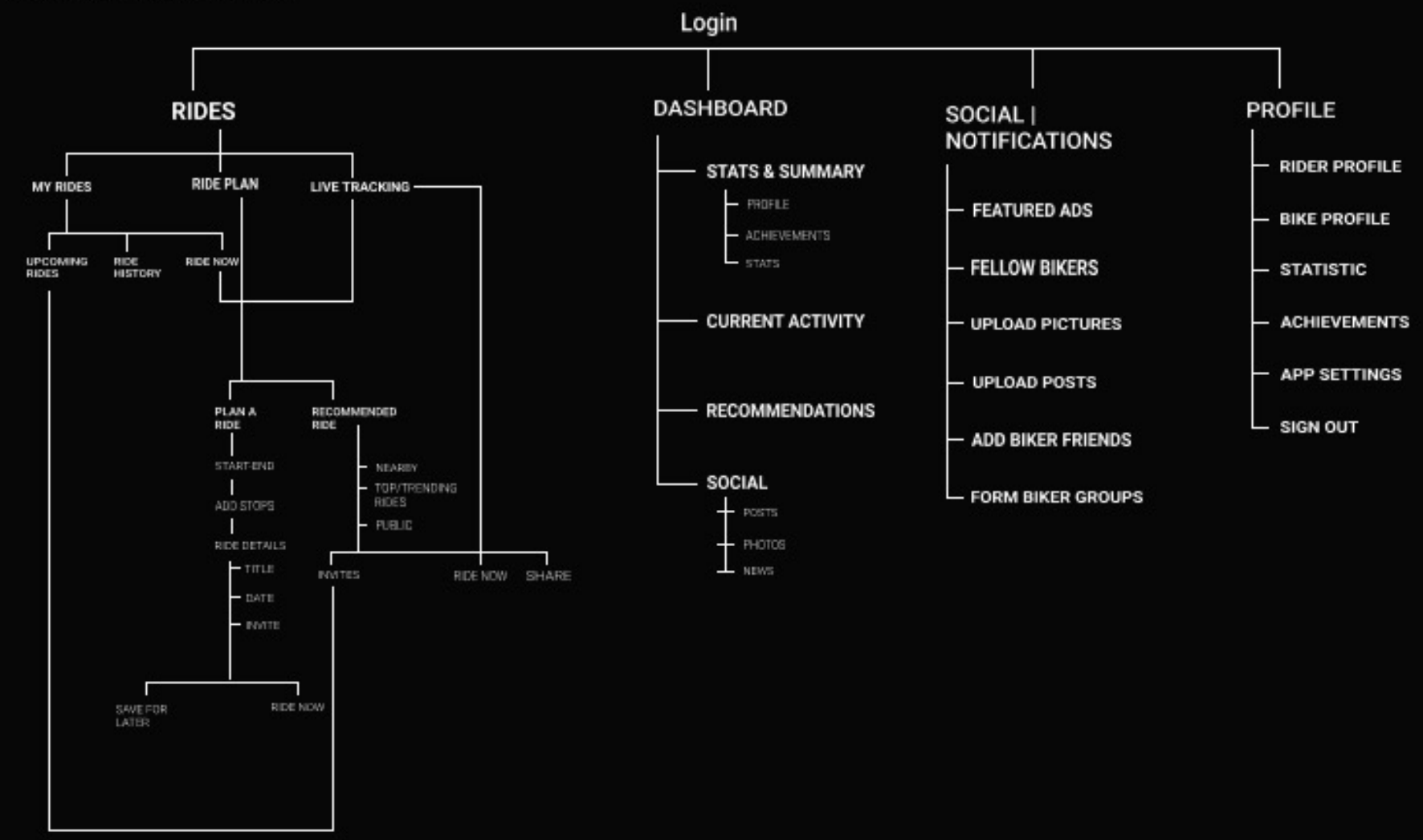

Design Evolution

Wireframes

Colour Theme

Way in the process of revisiting the whole new colour palette for MaximusPro, we went back to the process of visualising the views of a ride - As its all in the design language that the product speaks. We took the whole new experincece of the nature to be the palette for the app. Since the engergy that drives the bikers to get on the wheels leaving the world behind is the 'Nature'. The fresh breeze, soothing clouds and the feeling that makes the rider being himslef is the kind of inspiration that we are going ahead as the theme of the app.

Primary Colours

Yellow - its the raising colour and positive colour. And its considered as first colour to be identified by human eyes
Blue - Clouds are the visual treat for any riders who are on the wheel, to have the same experience in the app we have 2 different shades of blues

Mood Board

Interactive colors

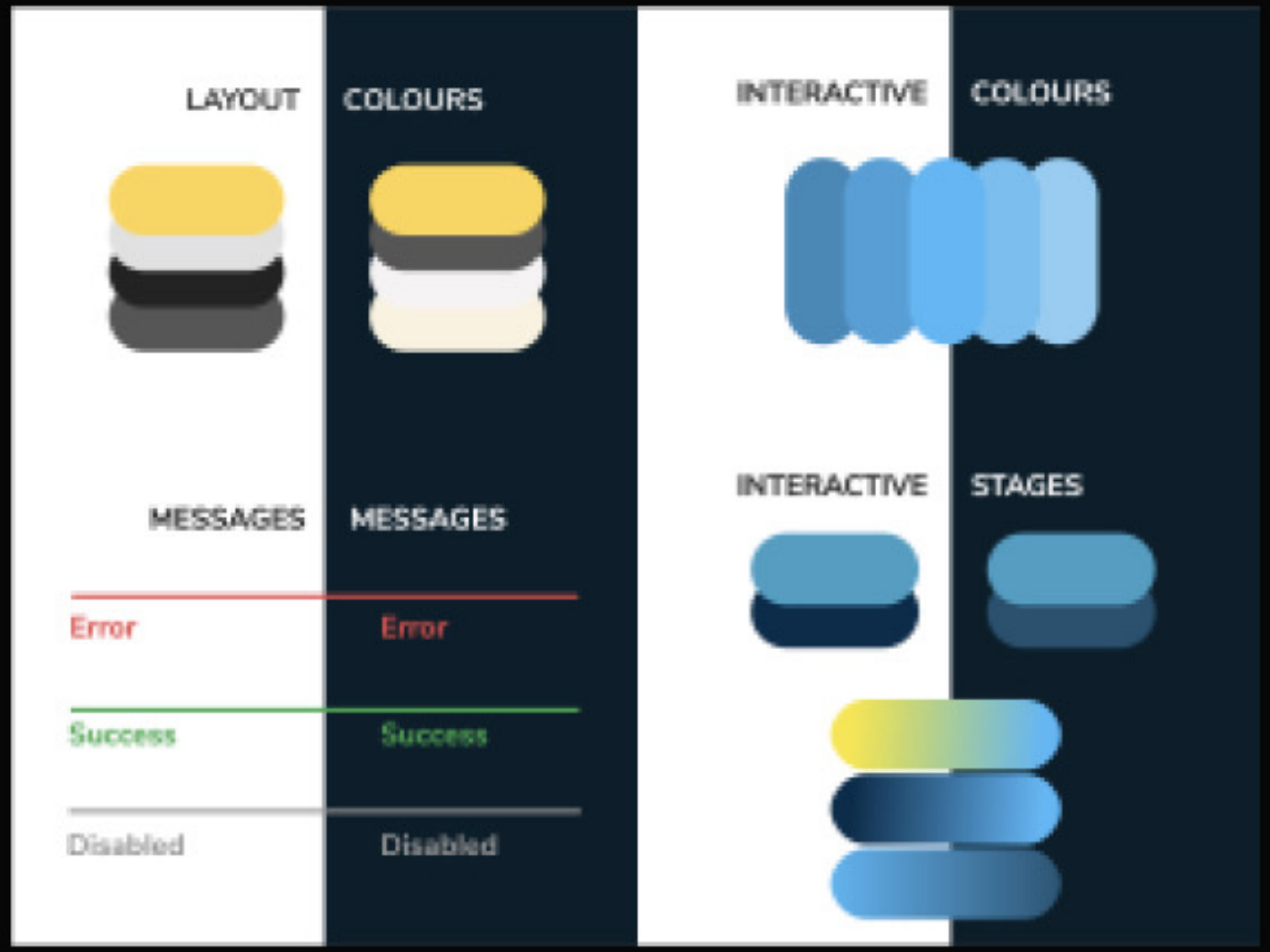

Sneak Peak

Your long awaited ride is still pending.
Go ahead and plan. Will meet you on the road!
Where do you want to go?
UPCOMING (3)
Western Ghats
Srinagar - Leh Ladakh
270 Kms
8 Stops
22-24 Aug
6 Bikers
SAVED (8)
VIEW ALL
Ride to Leh Ladakh
Srinagar - Leh Ladakh
270 Kms
22-24 Aug
6 Bikers

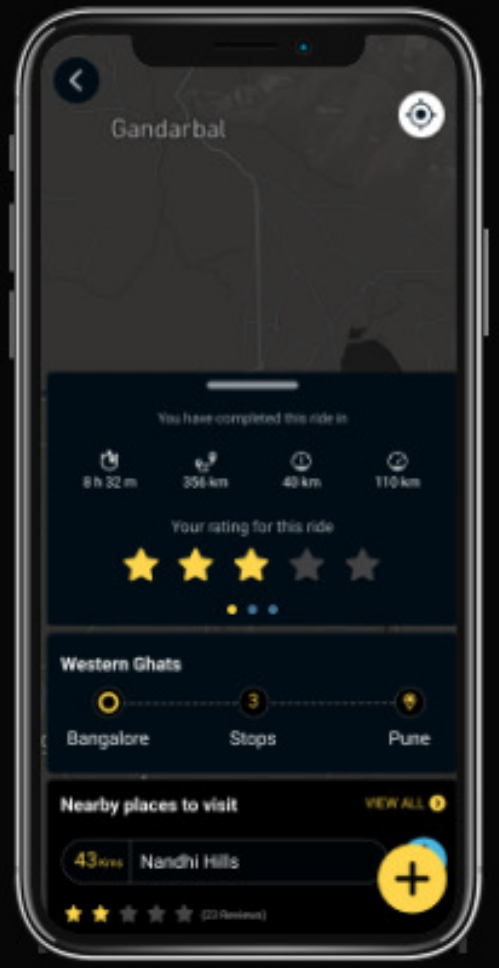
Gandarbal
You have completed this ride in
8 h 32 m
356 km
40 km
110 km
Your rating for this ride
Western Ghats
Bangalore
3
Stops
Pune
Nearby places to visit
VIEW ALL
43 Kms
Nandhi Hills

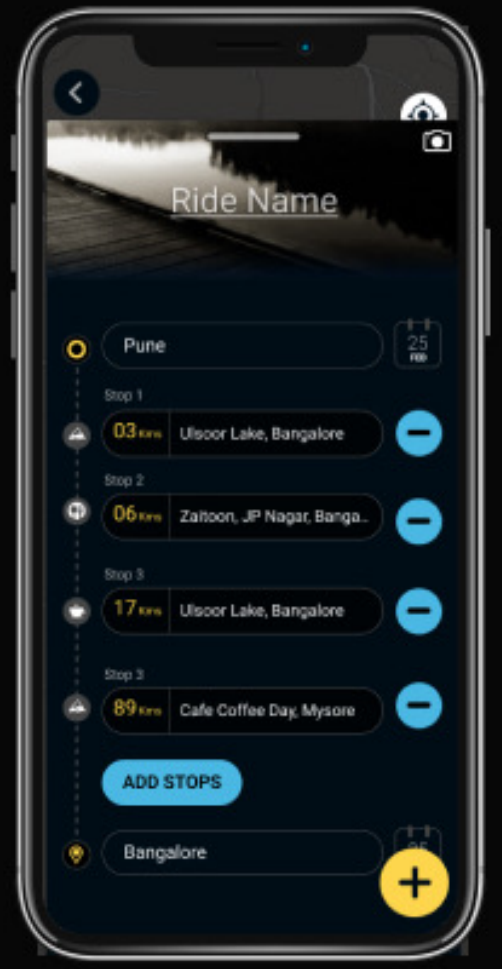
Ride Name
Pune
25
Stop 1
03 Kms
Ulsoor Lake, Bangalore
Stop 2
06 Kms
Zaitoon, JP Nagar, Banga..
Stop 3
17 Kms
Ulsoor Lake, Bangalore
Stop 3
89 Kms
Cafe Coffee Day, Mysore
ADD STOPS
Bangalore

Testing

#	Task	Direct Success	Indirect Success	Bounce Rate	Average Time (Seconds)	Misclick Rate	Heat Map
1	Pairing your device through the app and view of profile	100%	-	-	16.1	50%	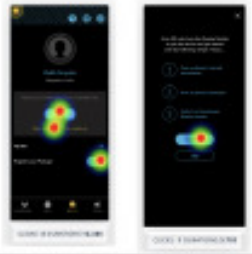
2	Ride log – browsing through the previous rides	100%	-	-	61.2	40%	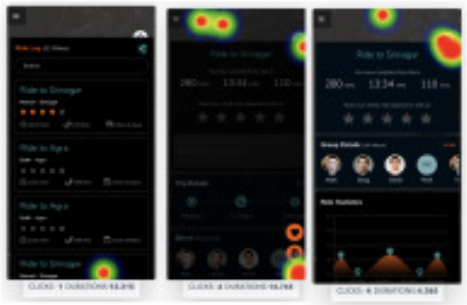
3	Planning a ride from new UI – User 1	100%	-	-	34.5	50%	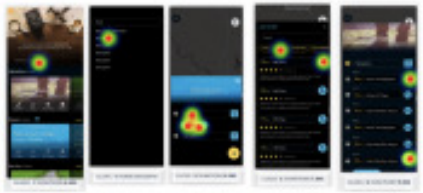
4	Planning a ride from new UI – User 2	-	100%	-	181.2	25%	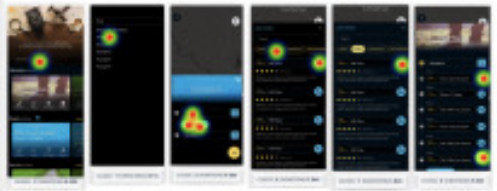

THANK YOU